Build with AI

Solution Challenge



Team Details

a. **Team name: Neural Nexusss**
b. **Team leader name: Mohit Rajput**
c. **Problem Statement: Rapid Crisis Response [Open Innovation]**

Our Solution

AI-powered disaster response and escape guidance system

1. Real-Time Early Warnings

Integrates trusted data from sources like India Meteorological Department to provide location-specific alerts for disasters such as cyclones, earthquakes, and floods.

2. AI-Based Safe Route Navigation

Uses risk analysis and pathfinding algorithms to guide users through the safest possible route, avoiding danger zones like flooded areas, high winds, or structural risks.

3. Smart Safety Mapping

Displays a hyperlocal map with pre-identified safe zones such as shelters, hospitals, and elevated areas, along with real-time risk levels for better decision-making.

4. Emergency SOS & Community Support

Allows users to send instant SOS alerts with live location and status to nearby users and authorities, enabling faster rescue and coordinated response.

Opportunities & Differentiation

Why our solution stands out and creates real impact

1. How is it different from existing solutions?

- Existing systems (like IMD, news alerts) **only provide alerts.**
- Our solution goes beyond alerts by providing **real-time decision guidance.**
- Focuses on **"what to do next"**, not just **"what is happening"**.

2. How does it solve the problem?

- Combines **early warning, risk mapping and smart routing.**
- Guides users to the **safest reachable location** in real time.
- Reduces panic by providing **clear, actionable steps**.

3. Unique Selling Proposition (USP)

- **AI-based safest path navigation** (not shortest route)
- **Hyperlocal, real-time** risk analysis
- **Integrated system:** Alert + Guidance + SOS in one platform

> "We don't just **inform** users, we **guide** them."

Build with AI

Solution Challenge

H2S

Key Features of Our Solution

AI-powered. Real-time. Hyperlocal. Built for every second that matters.

1. Real-Time Alerts

Instant disaster warnings based on your exact location.

- Powered by IMD & official sources
- Hyperlocal & early warnings
- Critical time to act before it's too late

2. Live Updates & Risk Insights

Continuous updates on disaster intensity, spread & risk levels.

- Real-time severity tracking
- Dynamic risk prediction
- Stay informed, stay ahead

3. AI Safe Route Navigation

Finds the safest path, not just the shortest.

- Avoids floods, high winds & hazards
- AI-powered risk analysis
- Dynamic rerouting in real time

4. Smart Safety Mapping

Interactive map with safe zones, shelters, hospitals & resources.

- Real-time risk overlays
- Nearby essential locations
- Works online & offline

5. Emergency SOS

Send instant SOS with live location & status.

- One-tap alert to contacts & authorities
- Live location tracking
- Faster rescue, better response

6. Personalized Notifications

Smart, relevant alerts based on your location & situation.

- Custom alert preferences
- Role-based notifications
- No unnecessary noise

What Makes Us Different

- AI-driven risk analysis & prediction
- Hyperlocal accuracy
- All-in-one platform: Alert + Guide + Act
- Community powered safety network
- Offline functionality for critical times

From Awareness to Action – We Protect, Guide & Save Lives.

PROCESS FLOW DIAGRAM

From Threat Detection to Safe Action – How Our Solution Works

1 DATA COLLECTION

Collects data from multiple trusted sources

- IMD & Govt. APIs
- Satellite Data
- Sensors & IoT
- Crowd Reports
- Social Media

2 RISK ANALYSIS & PREDICTION

AI models analyze data to predict risk & impact

- AI/ML Models
- Risk Assessment
- Impact Prediction
- Severity Estimation

3 ALERT GENERATION & NOTIFICATION

Sends real-time alerts and updates to users

- Real-time Alerts
- Personalized Notifications
- Multi-channel Delivery

4 SMART GUIDANCE & NAVIGATION

Provides safe routes, shelters & essential information

- AI Safe Routes
- Safe Zone Mapping
- Nearby Shelters
- Hospitals & Resources

5 EMERGENCY RESPONSE

Enables quick SOS, shares live location & status

- Emergency SOS
- Live Location Sharing
- Authority Alert
- Faster Rescue

CONTINUOUS FEEDBACK LOOP

Crowd reports & real-world data improve predictions and response

USE CASES

Citizens
Get alerts, updates, safe routes & help.

Authorities
Monitor situations, manage alerts & coordinate response.

Rescue Teams
Receive SOS, live locations & reach faster.

Communities
Stay informed, support each other & stay safe.

WHAT THIS ENABLES

Faster Alerts
Early warnings save precious time

Smarter Decisions
AI-driven insights reduce uncertainty

Safer Navigation
Dynamic routes keep you away from danger

Quicker Response
SOS & live location speed up rescue

Stronger Communities
Information + coordination builds resilience

Build with AI

Solution Challenge

H2S

Wireframes / Mock Diagrams of the Proposed Solution

How users interact with alerts, navigation, and emergency response

Predict. Alert. Protect. Respond.

Threat Detected
AI monitors multiple sources and detects anomalies

Alert Triggered
Instant alerts are sent to users in affected areas

Step 1 Alert Generated

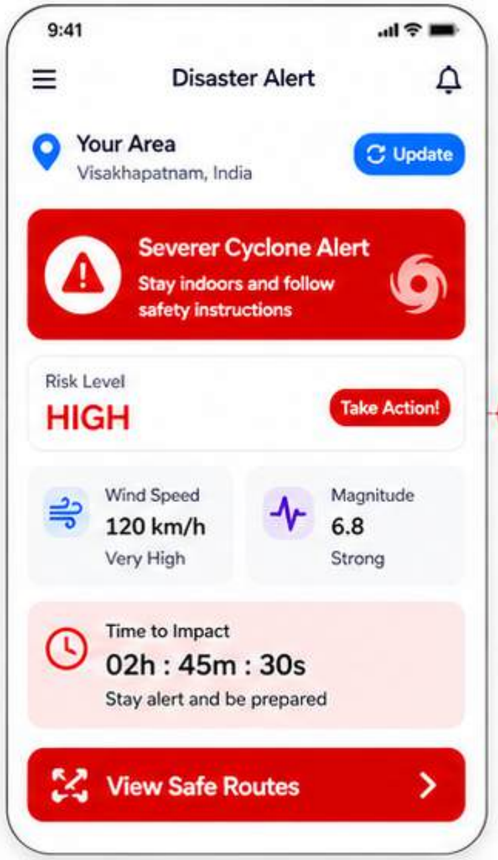

Step 2 AI Computes Safe Route

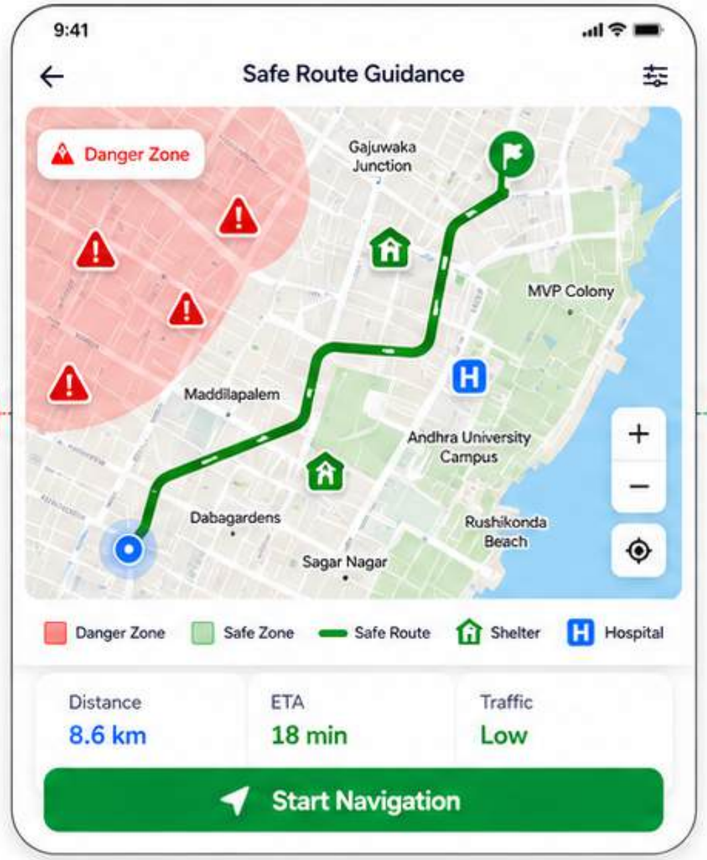

Step 3 Emergency Response Activated

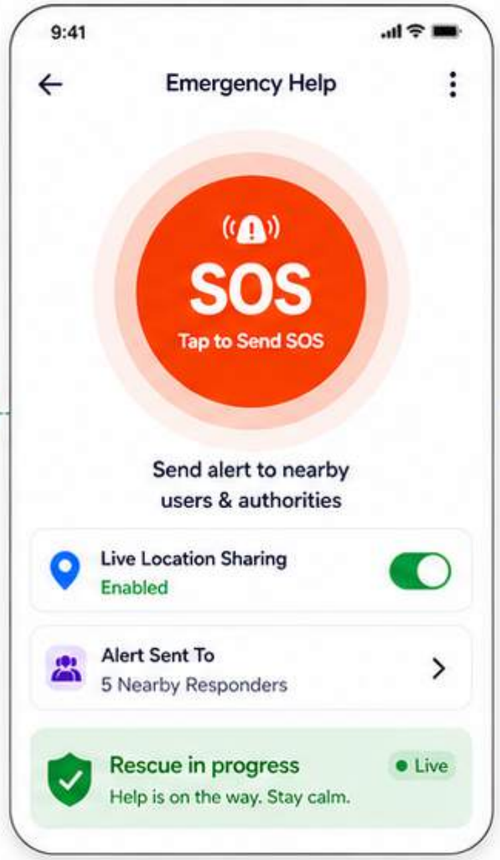

Alert Shared
SOS sent to nearby users & authorities instantly

Rescue in Progress
Teams respond with live tracking and updates

AI-Powered Predictions
Predicts disasters before they happen

Real-time Updates
Continuous updates on threats and conditions

Hyperlocal Alerts
Targeted alerts for your exact location

Offline Support
Critical features work even without internet

Smart Mapping & Routing
AI computes the safest routes in real-time

Build with AI

Solution Challenge

H2S

Architecture Diagram of the Proposed Solution

An AI-powered, real-time disaster management and emergency response system

Predict. Alert. Protect. Respond.

1. DATA SOURCES

Satellite Feeds
Weather, storms, cyclones, floods

IoT Sensors
Rainfall, water level, wind speed, seismic

Weather APIs
Real-time weather updates

Crowd Reports
User reports, social media, news

Government Data
IMD, NDMA, local authority feeds

2. DATA INGESTION & PROCESSING LAYER

Data Ingestion
Real-time streaming

Stream Processing
Filter, clean & normalize data

Data Storage
Raw & processed data lake

Feature Engineering
Extract important features

3. AI & ANALYTICS LAYER

AI/ML Models
Predict disasters, severity & impact

Risk Assessment Engine
Calculate risk levels for locations

Safe Route Engine
Find safest & fastest evacuation routes

Anomaly Detection
Detect unusual patterns & early warnings

4. APPLICATION & SERVICE LAYER

AI/ML Management
Generate & broadcast alerts

Notification Service
Multi-channel alerts (Push, SMS, Email)

Map & Navigation Service
Interactive maps, routing, shelters

SOS & Response Service
Emergency SOS, live location sharing

User Management
User profiles, roles & permissions

5. END USERS

Citizens
Receive alerts, safe routes, SOS help

Authorities
Monitor, manage alerts & response

Rescue Teams
Receive SOS, navigate & act

Communities
Stay informed, support each other

6. DATA MANAGEMENT LAYER

Data Lake
Store raw & historical data

Relational DB
Store structured operational data

GeoSpatial DB
Store location, maps, routes

Cache
Fast access to frequently used data

7. INFRASTRUCTURE & SECURITY LAYER

Cloud Infrastructure
Scalable, reliable & available

Microservices Architecture
Modular, independent & scalable

API Gateway
Secure API access & management

Security & Privacy
Encryption, IAM, data protection

Monitoring & Logging
Real-time monitoring, logs & alerts

Backup & Disaster Recovery
Data backup & fault tolerance

8. EXTERNAL INTEGRATIONS

IMD / NDMA Systems

Google Maps API

Telecom Providers

Emergency Services (112)

KEY BENEFITS

Real-time Awareness
Early detection & instant alerts save precious time

Smarter Decisions
AI-driven insights enable better risk assessment

Faster Response
Quick SOS & optimized routes speed up rescue

Stronger Communities
Information sharing builds resilience & saves lives

Data-Driven Impact
Continuous learning improves future predictions

Build with AI

Solution Challenge

H2S

Technologies Powering Our Solution

Cutting-edge technologies working together to deliver intelligent disaster management.

1 AI / ML

- TensorFlow, PyTorch, Scikit-learn
- ML models for risk prediction
- Forecasting & anomaly detection

2 Mapping & Geospatial

- Google Maps API, Mapbox
- PostGIS for spatial data
- Geocoding & location services

3 Backend & APIs

- Node.js, FastAPI
- RESTful APIs
- WebSockets for real-time data

4 Data Sources

- Weather APIs (OpenWeather, etc.)
- IoT sensors & ground stations
- Satellite imagery & Govt. feeds

5 Frontend

- Flutter & React Native (Mobile)
- Responsive Web Dashboard
- Interactive & user-friendly UI

6 Database

- PostgreSQL (Relational DB)
- Firebase (Realtime & Auth)
- Redis (Caching & Sessions)

7 Cloud & DevOps

- AWS / GCP for scalable infra
- Docker containerization
- Kubernetes orchestration

8 Communication

- Push Notifications (FCM)
- SMS APIs (Twilio, MSG91)
- Email notifications

Real-time
Instant data, alerts & decision support

Scalable
Built to handle growth & large-scale events

Secure
Data protection, privacy & role-based access

AI-powered
Intelligent predictions for better outcomes

Build with AI

Solution Challenge

H2S

Estimated Implementation Cost

A cost-effective and scalable solution built for real-world impact.

1 Development Cost (Initial MVP)

Basic app + backend + AI logic

₹50,000 – ₹1,00,000

Using open-source tools & student development

2 Cloud & Infrastructure (Monthly)

Servers, APIs, data processing

₹5,000 – ₹15,000 / month

Scales with users

3 Data Integration

Government APIs (e.g., IMD)

Mostly free or low-cost

4 Maintenance & Updates

Bug fixes, improvements, monitoring

₹10,000 – ₹20,000 / month

5 Scaling Cost (Future)

Advanced AI models, real-time systems

Cost increases with user base & coverage

Conclusion

Our solution is designed to be cost-effective by leveraging existing government data and scalable cloud infrastructure, making it feasible for large-scale deployment.

Build with AI

Solution Challenge

H2S

Snapshots of the MVP

Real-time disaster awareness, alerts, and guidance in action.

1. Home Dashboard
Overview of current risks, alerts & quick actions

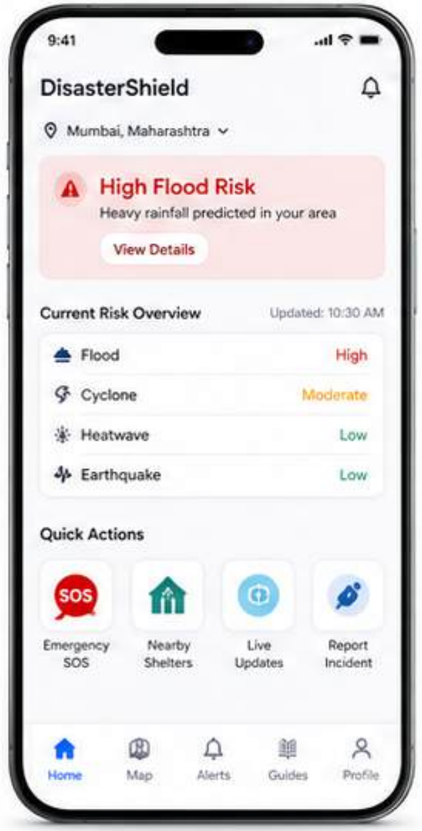

2. Live Map View
Real-time hazard map with safe zones

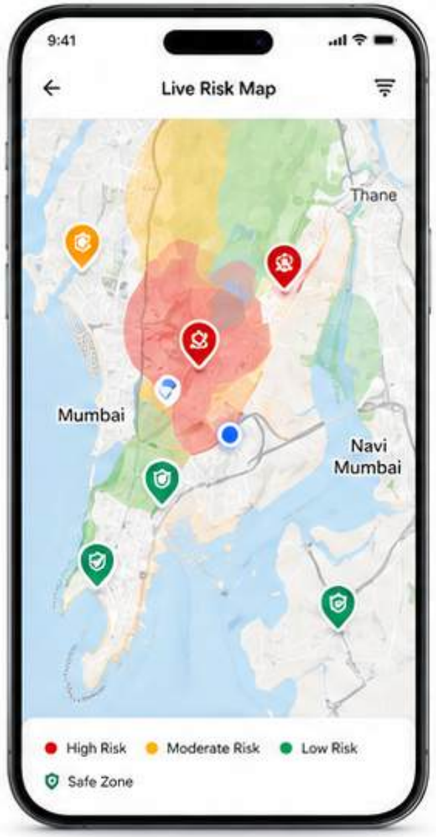

3. Alerts Screen
Instant alerts and critical notifications

4. Emergency SOS
One-tap SOS with live location sharing

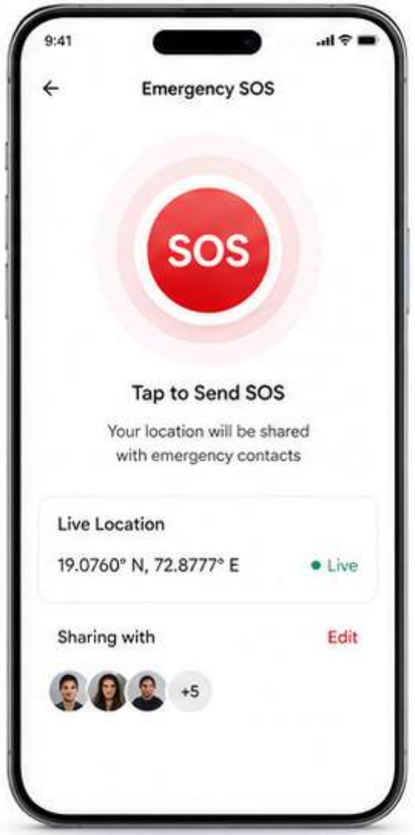

5. Safety Guides
Disaster-specific do's, don'ts & preparednecs tips

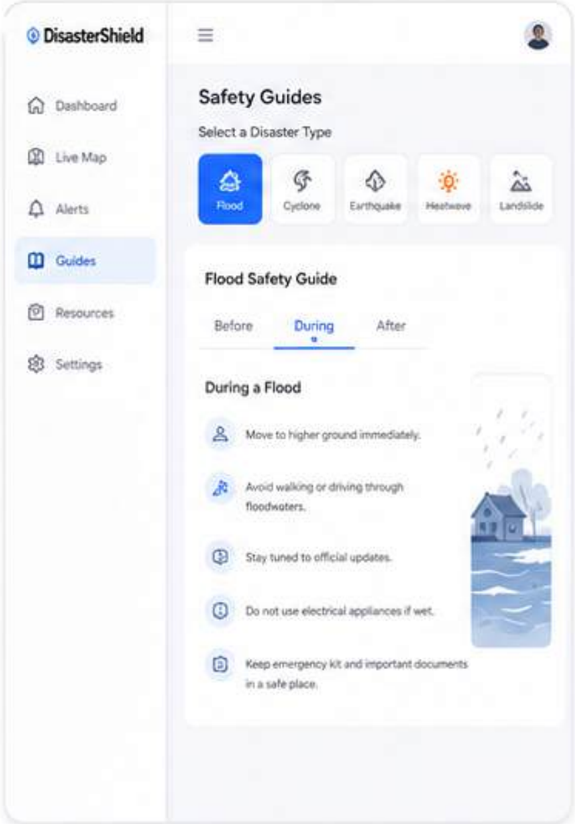

Build with AI

Solution Challenge

H2S

Additional Details / Future Development

Continuously improving to deliver smarter, faster, and more reliable disaster management.

Advanced AI Models

- Deep learning for risk prediction
- Improved accuracy with real-time data
- Anomaly detection & early alerts

Satellite & Drone Integration

- High-resolution imagery analysis
- Damage assessment
- Real-time situation monitoring

IoT & Sensor Network

- More ground sensors for real-time data
- Flood, rainfall, and seismic monitoring
- Smart infrastructure alerts

Hyperlocal Risk Mapping

- Village/ward level risk zones
- Dynamic heatmaps
- Localized alerts & guidance

Multi-language Support

- Regional language alerts & UI
- Voice-based assistance
- Inclusive for all communities

Community Engagement

- Volunteer network integration
- Crowd-sourced reporting
- Awareness & preparedness tools

Future Roadmap

Short Term (0–6 Months)

Enhance AI models, expand data sources, improve alert accuracy.

Mid Term (6–18 Months)

Add IoT sensors, integrate drone data, and enable hyperlocal mapping.

Long Term (18+ Months)

Build predictive systems, automate response coordination, scale impact.

Vision

A resilient, AI-powered ecosystem ensuring zero preventable loss of life.

Build with AI

Solution Challenge

H2S HACK2SKILL

Project Links

Provide the links to access your demo, prototype, and supporting resources.

Demo Video Link

(3 Minutes)

A 3-minute video demonstrating your solution, key features, and real-world impact.

Demo Video Link

Working Prototype Link

A link to your working prototype where judges can explore and interact with your solution.

Working Prototype link

Build with AI

H2S HACK2SKILL

Solution Challenge

Thank You